Does Regulatory Uncertainty Reduce Housing Supply? Evidence from Chicago's Aldermanic Privilege

Jacob Herbstman (University of Chicago)

February 2026

Motivation

- Housing prices and rents are skyrocketing in many U.S. cities, including Chicago
  - Limited housing supply in high demand areas is widely accepted as the key driver of these price increases
  - Land use regulations and local control are often blamed for limiting supply
- Most research focuses on formal institutions such as by-right zoning laws or planning commissions
  - But regulatory uncertainty, permitting delays, and discretion are also key determinants of housing supply and are less studied
- **Chicago**: Unique informal institution of *aldermanic privilege*
  - Offers a unique setting where de facto regulatory environment changes discretely at ward boundaries

What is Aldermanic Privilege?

- **Not written in any law** — Chicago has no city charter
- An informal but extraordinarily powerful norm
- Core feature: **Deference**
  - Other aldermen essentially never override a colleague's decision in their ward
  - "Very few things happen that aldermen don't want to happen." (Zhang, 2011)
  - Encyclopedia of Chicago: "little mayors" ruling wards as "fiefdoms"
- **Chicago gives more power to local politicians than many other U.S. cities**:
  - Houston has no explicit zoning code and centralized development approvals
  - Minneapolis has reduced councilmember discretion in recent years
  - Both cities have seen below-median rent and home price growth compared to peer cities (Hembre et al., 2025; Heckler, 2026)

Aldermanic Privilege is a Hotly Contested Issue in Chicago

CITY HALL NEWS ILLINOIS

Chicago wrongly limited affordable housing with aldermanic prerogative, HUD says

Feds say giving council members "a local veto over proposals to build affordable housing" has meant it's "rarely, if ever, constructed in the majority-white wards that have the least affordable housing."

By Brett Chase | Updated Nov 28, 2023, 5:54pm CDT

May 20, 2019

Mayor Lightfoot Signs First Executive Order to Limit Aldermanic Prerogative

In Her First Official Act as Mayor, Lightfoot Instructs Departments to Begin Process of Ending Aldermanic Prerogative as Part of Broader Ethics Reform

Mayor's Press Office 312.744.3334

Download this Press Release

POLITICS

Developer Moves Forward With Lincoln Park Apartment Complex, Setting Stage for Fight Over Aldermanic Prerogative

Heather Cherone | January 9, 2025, 5:00 am

Controversial Old Town Project With Proposed 44-Story Tower Rejected By Alderman

Ald. Brian Hopkins said he won't support Fern Hill's plan for North and LaSalle. But a new design could be coming.

By Patrick Filbin January 24, 2025 Updated January 27, 2025

Sterling Bay's Marcey Street Development Still Stalled After Heated City Council Exchange

The development would include more than 600 apartments in two towers in Lincoln Park near the Chicago River. Ald. Scott Waguespack opposes the plan in its current form.

By Quinn Myers December 11, 2024

This Paper

Research Question: Does the heterogeneity in regulatory uncertainty induced by aldermanic privilege reduce housing supply and raise prices?

Empirical strategy: Border-pair fixed effects regressions at ward boundaries

- Stringent fixed effects allow me to isolate the effect of regulatory uncertainty within small, homogeneous areas

Preview of Results

1. More uncertain aldermen $\Rightarrow$ $12{-}18\%$ lower multifamily density near ward borders
2. $\sim$2% higher rents on the more stringent side of the border
3. Effect appears to operate through reduced supply

Related Literature

Time-to-Build, Frictions, & Supply Elasticity

- Development lags distort investment and misallocate resources (Budish et al., 2015; Hsieh and Moretti, 2019)
- Permitting lags and "process" are primary drivers of inelasticity (Paciorek, 2013; Gyourko et al., 2021; Molloy et al., 2022)

Regulatory Uncertainty & Discretion

- Uncertainty increases the "option value of waiting" (Cunningham, 2006; Bloom, 2009)
- Discretionary review and local actors amplify delays (Fischel, 2009; Ortalo-Magné and Prat, 2014; Einstein et al., 2019; Khan, 2021)

Border Discontinuity Designs

- School and local government valuation (Black, 1999; Bayer et al., 2007)
- Spillovers and supply constraints (Turner et al., 2014; Diamond et al., 2019; Kulka et al., 2022)

A "Time-to-Build" Model of Regulatory Uncertainty

Key idea: Regulatory environment $\rightarrow$ effective delay $T(s)$ $\rightarrow$ discounts developer revenue

Developer's problem. A project chooses density $q \geq 0$ with cost $C(q) = F + cq + \frac{\gamma}{2}q^2$.

Revenue arrives upon completion, discounted by regulatory delay:

$$\max_{q \geq 0} \quad e^{-rT(s)}\, p\, q \; - \; C(q)$$

where r = discount rate, $T(s)$ = time-to-build under regulatory environment s

Optimal density (interior solution):

$$q^*(T, p) = \frac{e^{-rT(s)}\, p - c}{\gamma} \qquad \text{if } e^{-rT(s)} p > c, \text{ else } q^* = 0$$

Sufficient statistic: $rT(s)$ summarizes the regulatory wedge — captures delay, redesign, negotiation, financing frictions, and regulatory uncertainty

Testable Predictions

Main comparative static: $\partial q^* / \partial T(s) < 0$, which implies:

1. **Less density** — completed projects have fewer units → Density border-pair FE
2. **Lower Supply** — more sites flipped from "build" to "don't build" → Listing density
3. **Higher rents** — lower aggregate supply $Q = \sum_i q_i^*$, $p'(Q) < 0$ → Rental border-pair FE

Mapping to data:

- $T(s)$ proxied by observed permit-to-completion times
- Regulatory uncertainty index $\approx$ alderman-specific component of $T(s)$
- Cross-boundary variation: different aldermen $\Rightarrow$ discrete changes in $T(s)$

The Challenge: Measuring Regulatory Uncertainty

- Alderman preferences/frictions are latent: need to infer from observed behavior
- **Idea**: Use permit processing times as a **proxy** for regulatory uncertainty and variation in time to build
  - Data: Universe of Permits in Chicago (2006-2025) from Department of Buildings
  - Longer average processing time $\rightarrow$ more back-and-forth, more frictions, more uncertainty
- Focus on **high-discretion permits**: new construction, renovation, demolition

Uncertainty Index Construction

1. **Residualize** processing times on ward characteristics + year × month FEs
   - Controls for baseline differences across wards (income, demographics, etc.)
2. **Estimate alderman fixed effects** on residualized processing times

$$\widehat{\epsilon}_{it} = \mu + \delta_a + \eta_{it}$$

3. **Empirical Bayes shrinkage** to reduce noise (Kline et al., 2022, 2024) then standardize to mean 0, SD 1

Interpretation: High score = alderman associated with longer processing times

Caveat: This is a *proxy*: likely understates true variation in bureaucratic frictions

- Misses projects that never apply or are discouraged early

Alderman Regulatory Uncertainty Index

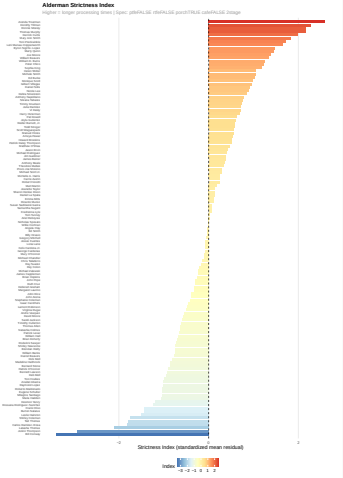

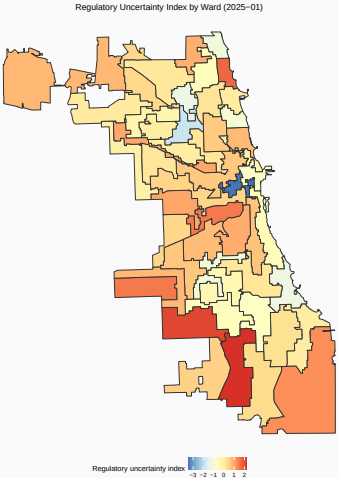

Regression

Validation Checks

Density Outcomes: Floor Area Ratio (FAR)

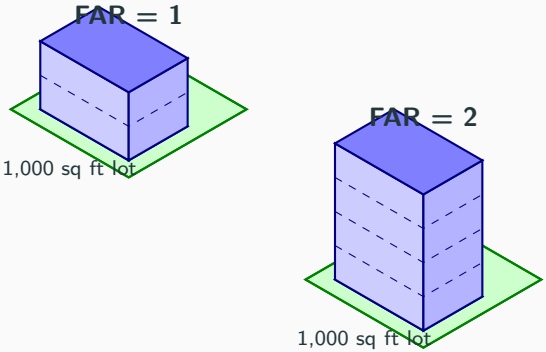

$$\text{FAR} = \frac{\text{Total Building Floor Area}}{\text{Lot Area}}$$

FAR limits development intensity

Same lot, different allowed density:

- FAR = 1: Can build 1,000 sq ft
- FAR = 2: Can build 2,000 sq ft

Chicago zoning examples:

Zone	Max FAR	Typical Use
RS-3	0.9	Single-family
RT-4	1.2	Two-flat
RM-5	2.0	Small apartment
RM-6	4.4	Mid-rise

Density Outcomes: Dwelling Units Per Acre (DUPAC)

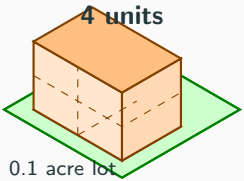

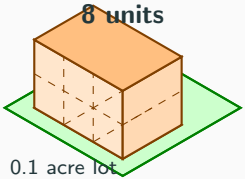

DUPAC: 40 vs. 80 units/acre (same building volume!)

DUPAC captures population density

$$\text{DUPAC} = \frac{\#\ \text{Dwelling Units}}{\text{Lot Acreage}}$$

Why both measures?

- Same FAR, different DUPAC
- **Developers** care about FAR (total rentable space)
- **Neighbors** care about DUPAC (congestion, parking, schools)

Data: New Multifamily Construction

Source: Cook County Assessor parcel data, 2006-2025

Sample: Multifamily buildings with 2–100 units

- **Single family**: Majority of construction but less variation in density
- **Large developments** (100+ units): Planned Development process with more city oversight

Why multifamily matters:

- Only ∼19% of new construction but a dispraportionate share of total housing supply

Summary statistics:

	All	MF Only
Avg FAR	1.22	2.32
Avg Units	6.65	31.3
Avg Stories	2.27	2.75
Avg DUPAC	28.5	74.5
N	13,236	2,469

Identification Strategy: Border Discontinuity

Idea: Compare new multifamily construction on opposite sides of ward boundaries

- Focus on parcels **within 500 feet** of border
- Use stringent border-pair $\times$ year FEs to remove unobserved heterogeneity

Identifying variation: At the same border in the same year, does the more uncertain side have less dense construction?

Two specifications:

- **Visual RD**: Descriptive, visual evidence of discontinuities at ward borders
- **Regressions**: Regression with continuous uncertainty measure and stringent FEs

Visual Evidence: FE-Adjusted Spatial RD at Ward Borders

Log(FAR)

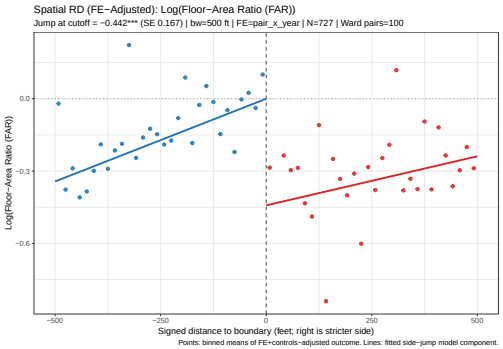

Log(DUPAC)

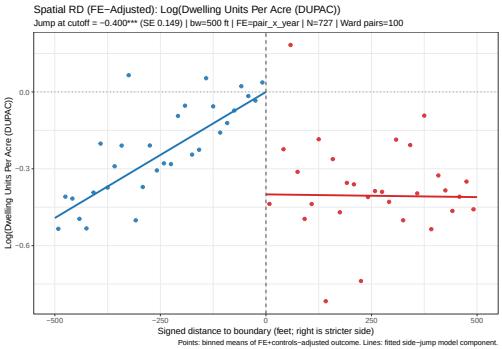

Notes: FE-adjusted outcome bins with ward-pair × year FE; 500 ft bandwidth.

▸ Pair + Year FE ▸ Levels ▸ Units

Main Results: Border-Pair Fixed Effects

Specification: $\ln(Y_i) = \beta \cdot \text{Uncertainty}_i + \alpha_{\text{border} \times \text{year}} + \varepsilon_i$

Sample: Within 500 ft, 2-100 units. Standard errors clustered at border-pair level.

	ln(FAR)	ln(DUPAC)	ln(Units)
	(1)	(2)	(3)
Uncertainty Index	-0.18***	-0.14**	-0.12*
	(0.07)	(0.07)	(0.06)
Observations	657	657	657
Dep. Var. Mean	1.88	57.81	10.14
Ward Pairs	106	106	106
Ward-Pair × Year FE	✓	✓	✓

Interpretation: A 1 SD ↑ in regulatory uncertainty is associated with lower FAR/DUPAC

▸ 250ft ▸ 1000ft ▸ Donut

From Density to Rents

So far: More uncertain aldermen $\rightarrow$ lower multifamily density

Next question: Does this supply constraint feed into higher housing costs?

Approach: Apply the same border-pair FE design to rental listings

- Data: RentHub rental listings, 2014-2022
- 2.67 million listing observations, 141 ward pairs, BW = 500 ft
- Ward-pair $\times$ year-month FE; SEs clustered at ward-pair level

Effect on Rental Prices

	(1)	(2)
Uncertainty Index	0.032***	0.015**
	(0.011)	(0.007)
Observations	2,674,081	1,648,806
Dep. Var. Mean	2193	2445
Ward Pairs	141	140
Hedonic Controls		✓
Ward-Pair × Year-Month FE	✓	✓

$\Rightarrow$ A 1 SD $\uparrow$ in uncertainty $\Rightarrow$ 3.2% higher rents (no controls) or 1.5% (with controls).

Spatial RD: Rental Prices at Ward Borders

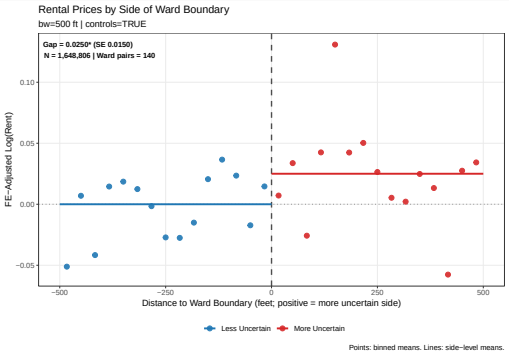

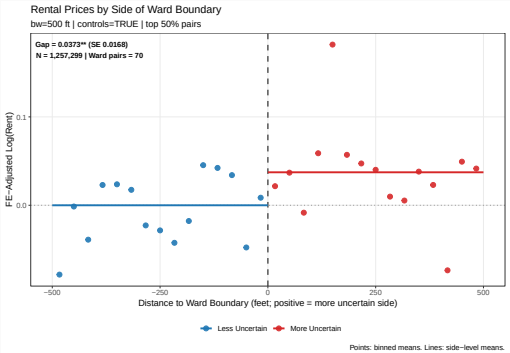

$\Rightarrow$ Discrete rent jump, gets more pronounced if restricted to above-median uncertainty pairs.

Home Sale Prices: Precise Null

	(1)	(2)
Uncertainty Index	-0.0007	0.0010
	(0.005)	(0.005)
Observations	98,728	98,626
Dep. Var. Mean	337297	337030
Ward Pairs	160	160
Hedonic Controls		✓
Ward-Pair × Year-Quarter FE	✓	✓

⇒ Same design applied to home sales → precisely estimated null.
Effect operates through the rental market, not capitalized into ownership prices.

▸ Event Study

Ruling Out Quality Sorting

Concern: Rent premium could reflect *better* units on the more uncertain side

Test: Same border-pair FE on unit characteristics (BW = 500 ft, 2014–2022)

	Sqft	Beds	Baths	Multi-Family	Laundry	Gym
More Uncertain Side	-13.5540	-0.0163	-0.0198	0.0218**	0.0254*	0.0180
	(29.0564)	(0.0474)	(0.0437)	(0.0109)	(0.0129)	(0.0219)
Observations	2,042,193	2,674,081	2,669,747	2,674,081	2,674,081	2,674,081
Dep. Var. Mean	894.63	1.37	1.30	0.76	0.59	0.46
Ward-Pair × Year-Month FE	✓	✓	✓	✓	✓	✓

⇒ Core size/bed/bath margins are close to zero; composition shifts are small.
Quality sorting is unlikely to explain the full rent premium at ward boundaries.

Supply Channel: Fewer Available Rentals

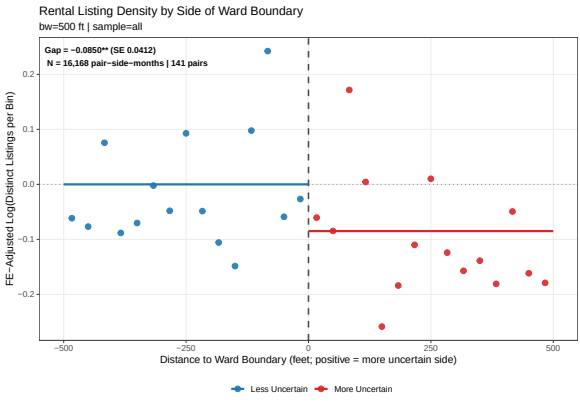

Outcome: Log(distinct listings) per ward-pair $\times$ side $\times$ year-month cell

$\Rightarrow$ $\sim$10% fewer distinct rental listings on the more uncertain side

Chain: Regulatory uncertainty $\rightarrow$ fewer units built $\rightarrow$ fewer available rentals $\rightarrow$ higher rents

Discussion & Policy Implications

Core problem: Regulatory uncertainty and permitting frictions raise the cost of housing development

- Longer permitting times $\rightarrow$ higher carrying costs for developers
- Fewer projects initiated $\rightarrow$ constrained rental supply $\rightarrow$ higher rents
- Effects concentrated in the rental market, not capitalized into sale prices

Policy alternatives to reduce regulatory friction:

1. **Transfer decision-making authority**: Shift zoning decisions to the citywide level (i.e. mayor, zoning board)
2. **Citywide preemption**: Override local vetoes for certain housing types (e.g., CA SB-35, MA Ch. 40B, federal H.O.M.E. Act proposals)
3. **Streamline permitting**: Reduce discretion and processing times to lower uncertainty for developers

Conclusion

Summary of findings:

1. Aldermen vary substantially in regulatory uncertainty (permit processing times)
2. More uncertain aldermen $\Rightarrow$ 10–16% lower multifamily density at borders
3. $\sim$2.3% higher rents per 1 SD of uncertainty; no quality differences across boundary; $\sim$10% fewer listings on the more uncertain side
4. Precise null for home sale prices — effect is a rental/flow phenomenon

Implications:

- Regulatory uncertainty in decentralized zoning raises rents through supply constraints
- Within-city fragmentation matters, not just across municipalities
- Reforms should target permitting frictions and reduce aldermanic discretion

Future work:

Thank you!

References

Bayer, Patrick, Fernando Ferreira, and Robert McMillan, "A Unified Framework for Measuring Preferences for Schools and Neighborhoods," *Journal of Political Economy*, August 2007, *115* (4), 588–638.

Black, S. E., "Do Better Schools Matter? Parental Valuation of Elementary Education," *The Quarterly Journal of Economics*, May 1999, *114* (2), 577–599.

Bloom, Nicholas, "The Impact of Uncertainty Shocks," *Econometrica*, 2009, *77* (3), 623–685.

Budish, Eric, Benjamin N. Roin, and Heidi Williams, "Do Firms Underinvest in Long-Term Research? Evidence from Cancer Clinical Trials," *American Economic Review*, July 2015, *105* (7), 2044–2085.

Cunningham, Christopher R., "House price uncertainty, timing of development, and vacant land prices: Evidence for real options in Seattle," *Journal of Urban Economics*, January 2006, *59* (1), 1–31.

Diamond, Rebecca, Tim McQuade, and Franklin Qian, "The Effects of Rent Control Expansion on Tenants, Landlords, and Inequality: Evidence from San Francisco," *American Economic Review*, September 2019, *109* (9), 3365–3394.

Einstein, Katherine Levine, David M. Glick, and Maxwell Palmer, *Neighborhood Defenders: Participatory Politics and America's Housing Crisis*, 1 ed., Cambridge University Press, December 2019.

Fischel, William A., *The Homevoter Hypothesis: How Home Values Influence Local Government Taxation, School Finance, and Land-Use Policies*, Harvard University Press, July 2009.

Gyourko, Joseph, Jonathan S. Hartley, and Jacob Krimmel, "The local residential land use regulatory environment across U.S. housing markets: Evidence from a new Wharton index," *Journal of Urban Economics*, July 2021, *124*, 103337.

Heckler, Amber, "This is how much Houston home prices have fallen since 2024," January 2026.

Hembre, Erik, Ben Horowitz, Libby Starling, and Maxine Xu, "Unpacking supply and demand in rent trends since the Minneapolis 2040 Plan," Technical Report, Federal Reserve Bank of Minneapolis August 2025.

Hsieh, Chang-Tai and Enrico Moretti, "Housing Constraints and Spatial Misallocation," *American Economic Journal: Macroeconomics*, April 2019, *11* (2), 1–39.

Khan, Asad R, "Decentralized Land-Use Regulation with Agglomeration Spillovers: Evidence from Aldermanic Privilege in Chicago," *Job Market Paper*, 2021.

Kline, Patrick, Evan K Rose, and Christopher R Walters, "Systemic Discrimination Among Large U.S. Employers," *The Quarterly Journal of Economics*, September 2022, *137* (4), 1963–2036.

_ , Evan K. Rose, and Christopher R. Walters, "A Discrimination Report Card," *American Economic Review*, August 2024, *114* (8), 2472–2525.

Kulka, Amrita, Aradhya Sood, and Nicholas Chiumenti, "How to Increase Housing Affordability? Understanding Local Deterrents to Building Multifamily Housing," *SSRN Electronic Journal*, 2022.

Molloy, Raven, Charles G. Nathanson, and Andrew Paciorek, "Housing supply and affordability: Evidence from rents, housing consumption and household location," *Journal of Urban Economics*, May 2022, *129*, 103427.

Ortalo-Magné, François and Andrea Prat, "On the Political Economy of Urban Growth: Homeownership versus Affordability," *American Economic Journal: Microeconomics*, February 2014, *6* (1), 154–181.

Paciorek, Andrew, "Supply constraints and housing market dynamics," *Journal of Urban Economics*, September 2013, *77*, 11–26.

Turner, Matthew, Andrew Haughwout, and Wilbert Van Der Klaauw, "Land Use Regulation and Welfare," *Econometrica*, 2014, *82* (4), 1341–1403.

Zhang, Yue, "Boundaries of Power: Politics of Urban Preservation in Two Chicago Neighborhoods," *Urban Affairs Review*, July 2011, *47* (4), 511–540.

Permit Processing Time Residualization

	Log Processing Time (1)
Median HH Income ($10k)	-0.014*
	(0.007)
Share Black	-0.045
	(0.074)
Share Hispanic	0.041
	(0.051)
Share White	0.397***
	(0.082)
Homeownership Rate	-0.050
	(0.075)
Share Bachelor's+	-0.080
	(0.067)
Population (10k)	-0.062***
	(0.013)
Dist. to CBD (km)	-0.007***
	(0.002)
Lakefront Share	-1.02***
	(0.102)
CTA Stations (800m)	-0.011***
	(0.002)
Observations	139,787
R^2	0.05735
Month FE	✓

Back

Validation Checks: Permits and Within-Ward Correlation

Outcome (Ward-Month)	Coef. on Uncertainty
N permits (all high-discretion)	-10.29^{***}
	(0.42)
Share with any unit change	0.0059^{***}
	(0.0009)
Units reduced per permit (text)	0.0061^{**}
	(0.0029)
Ward-month observations	10,746–10,753

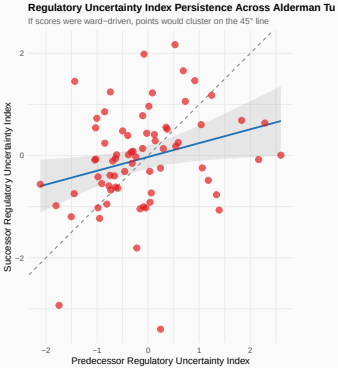

Predecessor-successor correlation: $\rho = 0.27$

Within-ward SD is 0.72 of overall SD.

Back

FE-Adjusted Spatial RD: Pair + Year FE

Log(FAR)

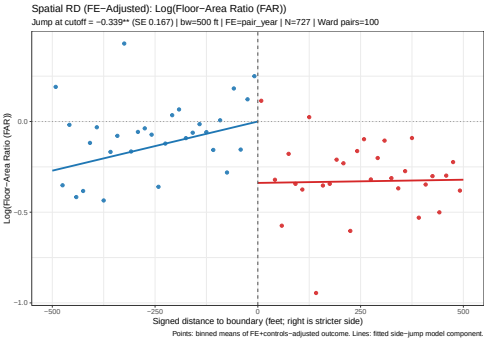

Log(DUPAC)

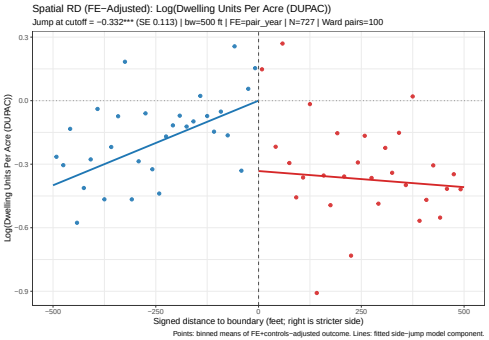

Additive pair + year FE version.

Back

FE-Adjusted Spatial RD: Levels

FAR (levels)

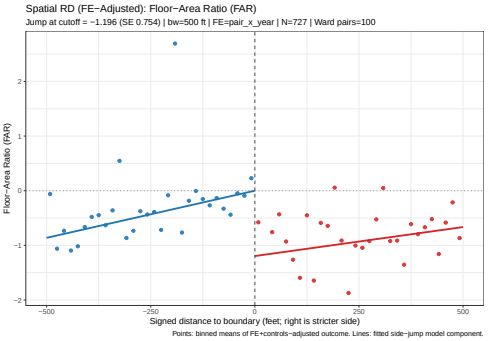

DUPAC (levels)

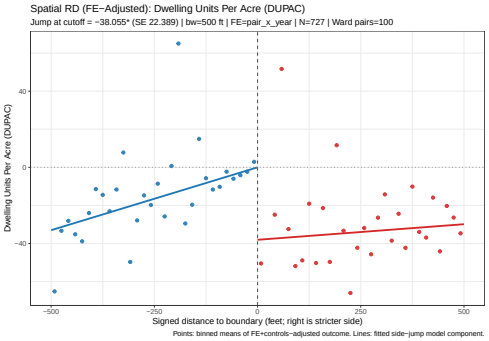

Pair × year FE in levels.

Back

FE-Adjusted Spatial RD: Units

Log(Units)

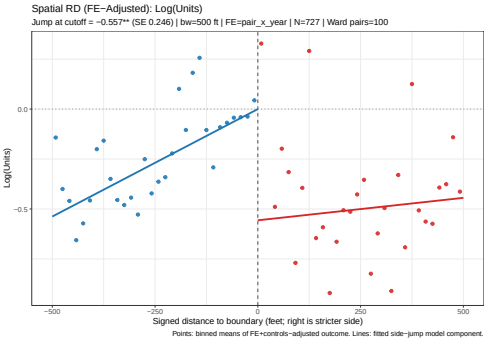

Units (levels)

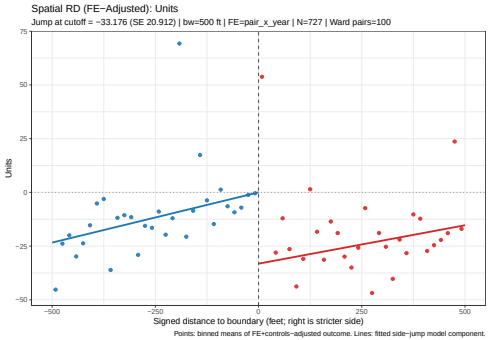

Pair × year FE with units outcomes.

Back

Bandwidth Sensitivity: 250ft

	ln(FAR)	ln(DUPAC)	ln(Units)
	(1)	(2)	(3)
Uncertainty Index	-0.22	-0.26	-0.32
	(0.15)	(0.20)	(0.22)
Observations	388	388	388
Dep. Var. Mean	2.01	62.48	11.82
Ward Pairs	89	89	89
Ward-Pair × Year FE	✓	✓	✓

Back

Bandwidth Sensitivity: 1000ft

	ln(FAR)	ln(DUPAC)	ln(Units)
	(1)	(2)	(3)
Uncertainty Index	0.03	0.03	0.03
	(0.05)	(0.04)	(0.04)
Observations	1,174	1,174	1,174
Dep. Var. Mean	1.78	54.18	9.51
Ward Pairs	120	120	120
Ward-Pair × Year FE	✓	✓	✓

Back

Donut Regression: Excluding 25ft from Border

	ln(FAR)	ln(DUPAC)	ln(Units)
	(1)	(2)	(3)
Strictness Score	-0.18***	-0.14**	-0.12*
	(0.07)	(0.07)	(0.06)
Observations	654	654	654
Dep. Var. Mean	1.88	57.75	10.16
Ward Pairs	106	106	106
Ward-Pair × Year FE	✓	✓	✓

Back

Donut Regression: Excluding 50ft from Border

	ln(FAR)	ln(DUPAC)	ln(Units)
	(1)	(2)	(3)
Strictness Score	-0.18***	-0.14**	-0.12*
	(0.07)	(0.07)	(0.06)
Observations	640	640	640
Dep. Var. Mean	1.88	57.86	10.26
Ward Pairs	106	106	106
Ward-Pair × Year FE	✓	✓	✓

Back

Citywide Treatment and Control Blocks

2015 Redistricting

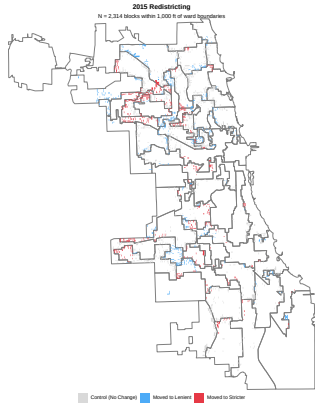

2023 Redistricting

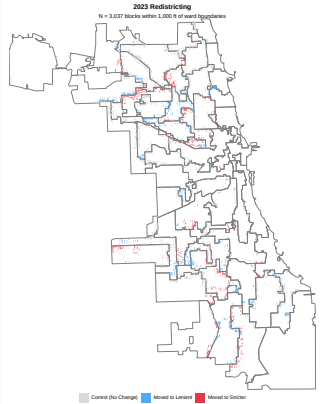

Red = switched to stricter; Blue = switched to lenient; Gray = control (no switch)

Back

Treatment and Control Block Details

	To Stricter	To Lenient	Total Treated	Control
2015 Cohort				
N Blocks	5,696	5,973	11,669	24,342
Controls per Treated		—		2.09
Mean ΔStrictness	$+0.66$	-0.58	$+0.02$	0.00
2023 Cohort				
N Blocks	3,721	4,480	8,201	23,446
Controls per Treated		—		2.86
Mean ΔStrictness	$+0.87$	-0.72	$+0.00$	0.00

Treatment defined as blocks that switched aldermen during redistricting.
Control blocks are near ward boundaries but did not switch.

Back

Home Price Event Study: Without Hedonic Controls

Aggregate Treatment Effect

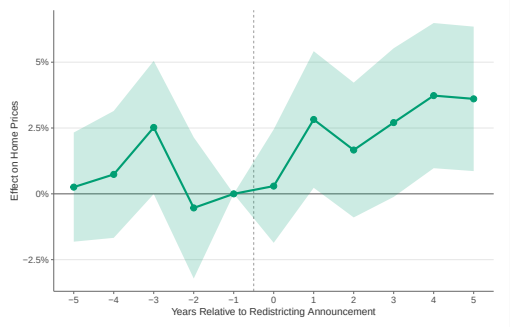

Stricter vs. Lenient

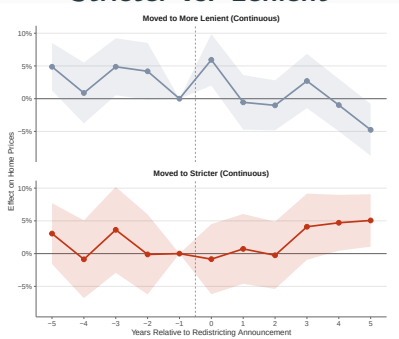

Back