Does Regulatory Discretion Reduce Housing Supply? Evidence from Chicago's Aldermanic Privilege

Jacob Herbstman (University of Chicago)

March 2026

Motivation

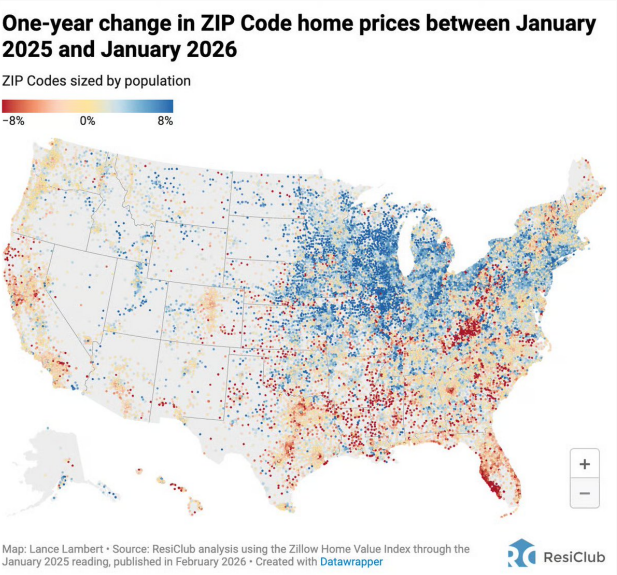
One-year change in ZIP Code home prices between January 2025 and January 2026
ZIP Codes sized by population
−8%
0%
8%
Map: Lance Lambert • Source: ResiClub analysis using the Zillow Home Value Index through the January 2025 reading, published in February 2026 • Created with Datawrapper
ResiClub

Motivation

- Housing prices and rents are skyrocketing in many U.S. cities, including Chicago
  - Limited housing supply in high demand areas is widely accepted as the key driver of these price increases
  - Land use regulations and local control are often blamed for limiting supply
- Most research focuses on formal institutions such as by-right zoning laws
  - But regulatory discretion and uncertainty are also key determinants of housing supply and are less studied
- **Chicago**: Unique informal institution of *aldermanic privilege*
  - Offers a unique setting where de facto regulatory environment changes discretely at ward boundaries

What is Aldermanic Privilege?

- **City council logistics**
  - 50 wards + aldermen, each voted on only by the residents of their ward.
  - Each ward has a population of about 50,000 people.
  - 4 year terms, but aldermen are often in office for decades
- Core feature: **Deference**
  - Aldermanic privilege is not written in any law but is universally acknowledged
  - "Very few things happen that aldermen don't want to happen." (Zhang, 2011)
  - Often referred to as "little mayors" ruling wards as "fiefdoms"
- **Chicago gives more power to local politicians than many other U.S. cities**:
  - Houston has no explicit zoning code and centralized development approvals
  - Minneapolis has reduced councilmember discretion in recent years
  - Both cities have seen below-median rent and home price growth compared to peer cities (Hembre et al., 2025; Heckler, 2026)

Aldermanic Privilege is a Hotly Contested Issue in Chicago

CITY HALL NEWS ILLINOIS

Chicago wrongly limited affordable housing with aldermanic prerogative, HUD says

Feds say giving council members "a local veto over proposals to build affordable housing" has meant it's "rarely, if ever, constructed in the majority-white wards that have the least affordable housing."

By Brett Chase | Updated Nov 28, 2023, 5:54pm CDT

May 20, 2019

Mayor Lightfoot Signs First Executive Order to Limit Aldermanic Prerogative

In Her First Official Act as Mayor, Lightfoot Instructs Departments to Begin Process of Ending Aldermanic Prerogative as Part of Broader Ethics Reform

Mayor's Press Office 312.744.3334

Download this Press Release

POLITICS

Developer Moves Forward With Lincoln Park Apartment Complex, Setting Stage for Fight Over Aldermanic Prerogative

Heather Cherone | January 9, 2025, 5:00 am

Controversial Old Town Project With Proposed 44-Story Tower Rejected By Alderman

Ald. Brian Hopkins said he won't support Fern Hill's plan for North and LaSalle. But a new design could be coming.

By Patrick Filbin January 24, 2025 Updated January 27, 2025

Sterling Bay's Marcey Street Development Still Stalled After Heated City Council Exchange

The development would include more than 600 apartments in two towers in Lincoln Park near the Chicago River. Ald. Scott Waguespack opposes the plan in its current form.

By Quinn Myers December 11, 2024

This Paper

Research Question: Does the heterogeneity in regulatory stringency induced by the unique institution of aldermanic privilege reduce housing supply and raise prices?

Empirical strategy: Border discontinuity design at ward boundaries

- Look at multifamily development and rents near ward borders
- **Key assumption**: neighborhood characteristics vary smoothly across the border but the regulatory environment changes discretely

Preview of Results

1. More stringent aldermen $\Rightarrow$ lowers multifamily density near ward borders
2. $\sim$2% higher rents on the more stringent side of the border
3. Effect appears to operate through reduced supply

Related Literature

Time-to-Build, Frictions, & Supply Elasticity

- Development lags distort investment and misallocate resources (Budish et al., 2015; Hsieh and Moretti, 2019)
- Permitting lags and "process" are primary drivers of inelasticity (Paciorek, 2013; Gyourko et al., 2021; Molloy et al., 2022)

Regulatory Uncertainty & Discretion

- Uncertainty increases the "option value of waiting" (Cunningham, 2006; Bloom, 2009)
- Discretionary review and local actors amplify delays (Fischel, 2009; Ortalo-Magné and Prat, 2014; Einstein et al., 2019; Khan, 2021; Duranton and Puga, 2023)

Border Discontinuity Designs

- School valuation (Black, 1999; Bayer et al., 2007)
- Spillovers and supply constraints (Turner et al., 2014; Diamond et al., 2019; Kulka et al., 2022)

A "Time-to-Build" Model of Regulatory Uncertainty

Key idea: Regulatory environment $\rightarrow$ effective delay $T(s)$ $\rightarrow$ discounts developer revenue

Developer's problem. A project chooses density $q \geq 0$ with cost $C(q) = F + cq + \frac{\gamma}{2}q^2$.

Revenue arrives upon completion, discounted by regulatory delay:

$$\max_{q \geq 0} \quad e^{-rT(s)}\, p\, q \;-\; C(q)$$

where r = discount rate, $T(s)$ = time-to-build under regulatory environment s

Optimal density (interior solution):

$$q^*(T, p) = \frac{e^{-rT(s)}\, p - c}{\gamma} \qquad \text{if } e^{-rT(s)} p > c, \text{ else } q^* = 0$$

Sufficient statistic: $rT(s)$ summarizes the regulatory wedge — captures delay, redesign, negotiation, financing frictions, and regulatory uncertainty

Testable Predictions

Main comparative static: $\partial q^* / \partial T(s) < 0$, which implies:

1. **Less density** — completed projects have fewer units → Density border-pair FE
2. **Higher rents** — lower aggregate supply $Q = \sum_i q_i^*$, $p'(Q) < 0$ → Rental border-pair FE

Mapping to data:

- $T(s)$ proxied by observed permit-to-completion times
- Regulatory uncertainty index $\approx$ alderman-specific component of $T(s)$
- Cross-boundary variation: different aldermen $\Rightarrow$ discrete changes in $T(s)$

The Challenge: Measuring Regulatory Uncertainty

- Alderman preferences/frictions are latent: need to infer from observed behavior
- **Idea**: Use permit processing times as a **proxy** for regulatory uncertainty and variation in time to build
  - Data: Universe of Permits in Chicago (2006-2025) from Department of Buildings
  - Longer average processing time $\rightarrow$ more back-and-forth, more frictions, more uncertainty
- Focus on **high-discretion permits**: new construction, renovation, demolition

Do permits Matter?

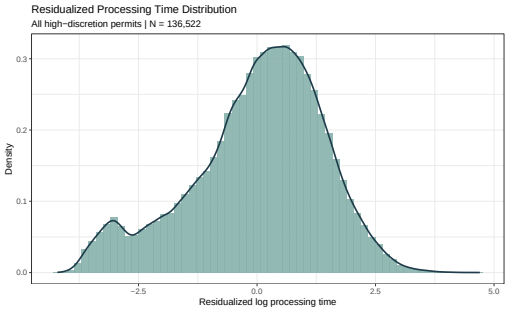

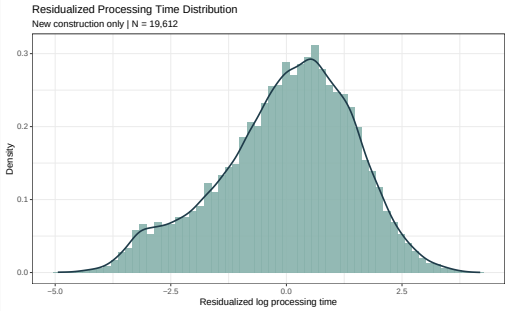

Stringency Index Construction

1. **Residualize** processing times on permit-level characteristics and a rich set of fixed effects (permit type, review type, and year $\times$ month)
   - Controls for baseline differences across wards (income, demographics, etc.)
2. **Estimate alderman fixed effects** on residualized processing times

$$\widehat{\epsilon}_{it} = \mu + \delta_a + \eta_{it}$$

3. **Empirical Bayes shrinkage** to reduce noise (Kline et al., 2022, 2024) then standardize to mean 0, SD 1

Interpretation: High score = alderman associated with longer processing times

Caveat: This is a *proxy*: likely understates true variation in bureaucratic frictions

- Misses projects that never apply or are discouraged early

Alderman Regulatory Stringency Index

	Log Processing Time (1)
Median HH Income ($10k)	-0.001
	(0.007)
Share Black	0.049
	(0.076)
Share Hispanic	0.108**
	(0.054)
Share White	0.414***
	(0.084)
Homeownership Rate	0.130*
	(0.070)
Share Bachelor's+	-0.186***
	(0.070)
Population (10k)	-0.036***
	(0.013)
Dist. to CBD (km)	-0.013***
	(0.002)
Dist. to Lake (km)	0.0008
	(0.002)
CTA Stations (800m)	-0.019***
	(0.003)
Lag Permits	-0.001***
	(0.0004)
Observations	139,493
R^2	0.10968
Review Type FE	✓
Permit Type FE	✓
Year × Month FE	✓

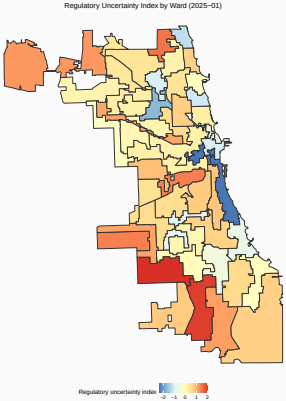

▸ Final Stringency Scores

Validation Checks: Permits and Within-Ward Correlation

Outcome (Ward-Month)	Coef. on Uncertainty
N permits (all high-discretion)	-9.48^{***}
	(0.36)
Share with any unit change	0.0081^{***}
	(0.0008)
Units reduced per permit (text)	0.0066^{***}
	(0.0025)
Ward-month observations	10,753

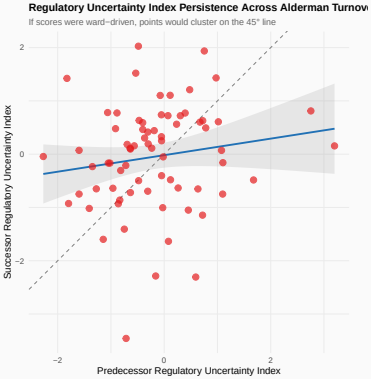

Density Outcomes: Floor Area Ratio (FAR)

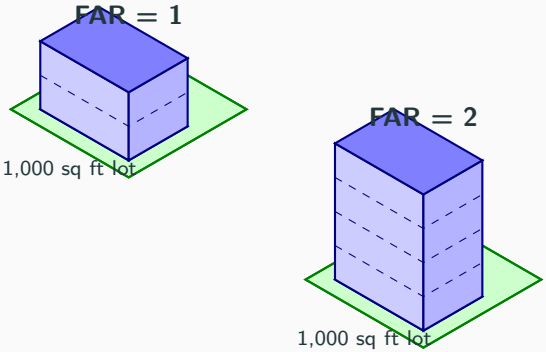

$$\text{FAR} = \frac{\text{Total Building Floor Area}}{\text{Lot Area}}$$

FAR limits development intensity

Same lot, different allowed density:

- FAR = 1: Can build 1,000 sq ft
- FAR = 2: Can build 2,000 sq ft

Chicago zoning examples:

Zone	Max FAR	Typical Use
RS-3	0.9	Single-family
RT-4	1.2	Two-flat
RM-5	2.0	Small apartment
RM-6	4.4	Mid-rise

Density Outcomes: Dwelling Units Per Acre (DUPAC)

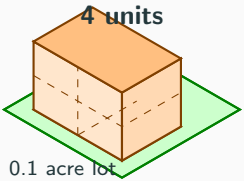

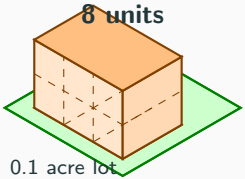

DUPAC: 40 vs. 80 units/acre (same building volume)

DUPAC captures population density

$$\text{DUPAC} = \frac{\#\ \text{Dwelling Units}}{\text{Lot Acreage}}$$

Why both measures?

- Same FAR, different DUPAC
- **Developers** care about FAR (total rentable space)
- **Neighbors** care about DUPAC (congestion, parking, schools)

Data: New Multifamily Construction

Source: Cook County Assessor parcel data, 2006-2025

Sample: Multifamily buildings

- **Single family**: Majority of construction but less variation in density

Why multifamily matters:

- Only ∼19% of new construction but a disproportionate share of total housing supply

Summary statistics:

	All	MF Only
Avg FAR	1.22	2.32
Avg Units	6.65	31.3
Avg Stories	2.27	2.75
Avg DUPAC	28.5	74.5
N	13,236	2,469

Identification Strategy: Border Discontinuity

Idea: Compare new multifamily construction on opposite sides of ward boundary segments

- Focus on parcels **within 500 feet** of a segment
- Fixed effects: ward-pair $\times$ year (interacted)

Identifying variation: Within the same ward pair in the same year, does the more stringent side have less dense new multifamily construction?

Two specifications:

- **Visual RD**: FE-adjusted discontinuity plots
- **Regressions**: FE regressions using continuous variation in the stringency index

Visual Evidence: FE-Adjusted Spatial RD at Ward Borders

Log(FAR)

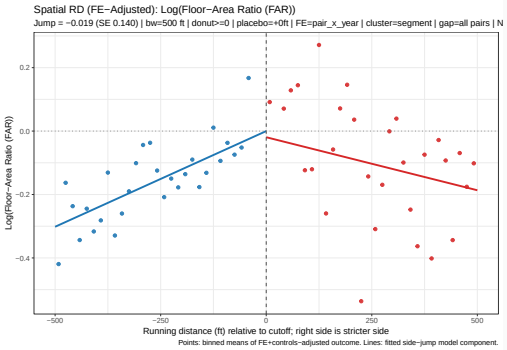

Log(DUPAC)

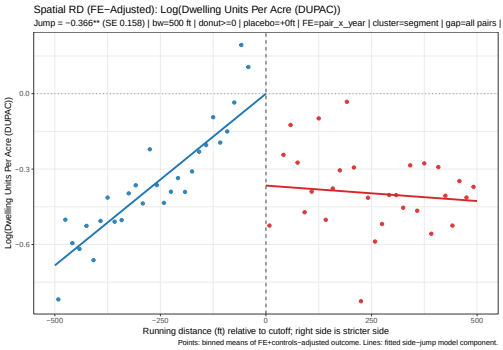

Notes: Multifamily sample, 500 ft bandwidth, ward-pair × year FE, segment-clustered SEs.

▸ Ward-Pair Cluster ▸ All Sample ▸ Additive FE

Main Results: Interacted Border FE

Specification: $\ln(Y_i) = \beta \cdot \text{Stringency}_i + \alpha_{\text{ward-pair} \times \text{year}} + \varepsilon_i$

Sample: Within 500 ft, multifamily only. Main SEs clustered at boundary segment level.

	ln(FAR)	ln(DUPAC)	ln(Units)
	(1)	(2)	(3)
Uncertainty Index	0.05	-0.04	0.04
	(0.05)	(0.06)	(0.10)
Observations	741	741	741
Dep. Var. Mean	2.48	81.90	31.97
Ward Pairs	98	98	98
Ward-Pair × Year FE	✓	✓	✓

Interpretation: Under interacted FE, density estimates attenuate substantially.

▸ Ward-Pair Cluster ▸ Additive FE ▸ All-Sample FE

From Density to Rents

So far: More uncertain aldermen $\rightarrow$ lower multifamily density

Next question: Does this supply constraint feed into higher housing costs?

Approach: Apply the same border-pair FE design to rental listings

- Data: RentHub rental listings, 2014-2022
- 2.67 million listing observations, 141 ward pairs, BW = 500 ft
- Segment $\times$ year-month FE; SEs clustered at segment level

Effect on Rental Prices

	(1)	(2)
Uncertainty Index	0.034**	0.029***
	(0.016)	(0.010)
Observations	2,664,657	1,644,753
Dep. Var. Mean	2521	2799
Ward Pairs	140	139
Hedonic Controls		✓
FE Structure	Segment × Year-Month FE	Segment × Year-Month FE
Cluster Level	Segment	Segment

⇒ A 1 SD ↑ in uncertainty ⇒ 3.4% higher rents (no controls) or 2.9% (with controls).

▸ Permutation Test

Spatial RD: Rental Prices at Ward Borders

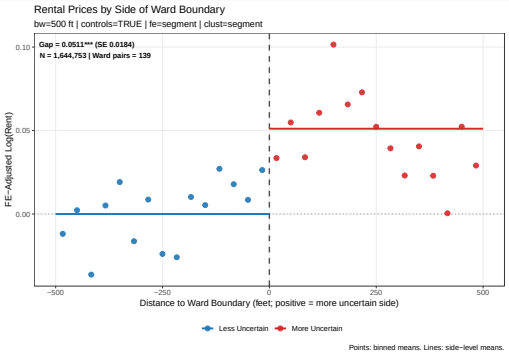

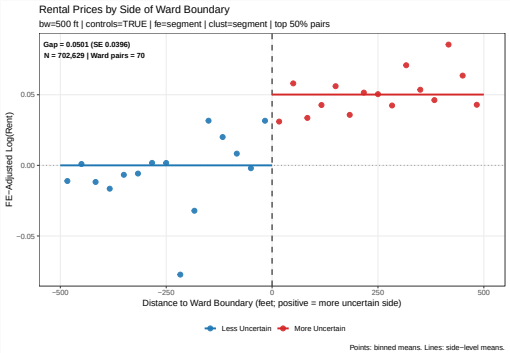

$\Rightarrow$ Discrete rent jump, gets more pronounced if restricted to above-median uncertainty pairs.

Home Sale Prices

	(1)	(2)
Uncertainty Index	0.008*	0.007*
	(0.004)	(0.004)
Observations	100,895	100,793
Dep. Var. Mean	387997	387716
Ward Pairs	158	158
Hedonic Controls		✓
Segment × Year-Quarter FE	✓	✓
Cluster Level	Segment	Segment

Event Study

Ruling Out Quality Sorting

Concern: Rent premium could reflect *better* units on the more uncertain side

Test: Same border-pair FE on unit characteristics (BW = 500 ft, 2014–2022)

	Sqft	Beds	Baths	Multi-Family	Laundry	Gym
More Uncertain Side	-0.9245	-0.0090	-0.0088	0.0181***	0.0269	0.0117
	(29.4958)	(0.0560)	(0.0414)	(0.0069)	(0.0232)	(0.0194)
Observations	2,037,444	2,664,657	2,660,323	2,664,657	2,664,657	2,664,657
Dep. Var. Mean	894.81	1.38	1.30	0.76	0.59	0.46
Segment × Year-Month FE	✓	✓	✓	✓	✓	✓
Clustered by Segment	✓	✓	✓	✓	✓	✓

⇒ Core size/bed/bath margins are close to zero; composition shifts are small.
Quality sorting is unlikely to explain the full rent premium at ward boundaries.

Supply Channel: Fewer Available Rentals

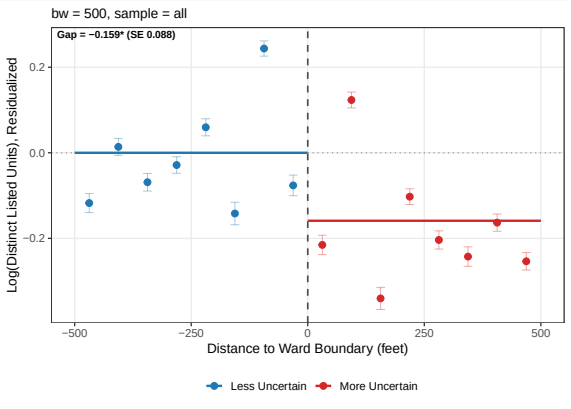

	PPML: Distinct Units
Uncertainty Index	-0.0420
	(0.0426)
Obs.	94,546
Hedonic Controls	✓
Segment × Month FE	✓
Clustered by Segment	✓

Outcome: Distinct listed units (unit-proxy key), ward-pair × side × month
Interpretation: 1 SD ↑ in uncertainty ⇒ ∼12% fewer listed units

Discussion & Policy Implications

Core problem: Regulatory uncertainty and permitting frictions raise the cost of housing development

- Longer permitting times $\rightarrow$ higher carrying costs for developers
- Fewer projects initiated $\rightarrow$ constrained rental supply $\rightarrow$ higher rents
- Effects concentrated in the rental market, not capitalized into sale prices

Policy alternatives to reduce regulatory friction:

1. **Streamline permitting**: Reduce discretion and processing times to lower uncertainty for developers
2. **Transfer decision-making authority**: Shift zoning decisions to the citywide level (i.e. mayor, zoning board)
3. **Citywide preemption**: Override local vetoes for certain housing types (e.g., CA SB-35, MA Ch. 40B, federal H.O.M.E. Act proposals)

Conclusion

Summary of findings:

1. Aldermen vary substantially in regulatory uncertainty (permit processing times)
2. More uncertain aldermen $\Rightarrow$ lower multifamily FAR and DUPAC at borders (about 7–10% in border FE)
3. $\sim$1.5-3% higher rents which appears to be driven by supply

Implications:

- Regulatory uncertainty in decentralized zoning lowers supply and raises rents
- Within-city fragmentation matters, not just across municipalities
- Reforms should target permitting frictions and reduce aldermanic discretion

Future work:

- Model developer location choice decision to run counterfactuals on policy reforms

Thank you!

References

Bayer, Patrick, Fernando Ferreira, and Robert McMillan, "A Unified Framework for Measuring Preferences for Schools and Neighborhoods," *Journal of Political Economy*, August 2007, *115* (4), 588–638.

Black, S. E., "Do Better Schools Matter? Parental Valuation of Elementary Education," *The Quarterly Journal of Economics*, May 1999, *114* (2), 577–599.

Bloom, Nicholas, "The Impact of Uncertainty Shocks," *Econometrica*, 2009, *77* (3), 623–685.

Budish, Eric, Benjamin N. Roin, and Heidi Williams, "Do Firms Underinvest in Long-Term Research? Evidence from Cancer Clinical Trials," *American Economic Review*, July 2015, *105* (7), 2044–2085.

Cunningham, Christopher R., "House price uncertainty, timing of development, and vacant land prices: Evidence for real options in Seattle," *Journal of Urban Economics*, January 2006, *59* (1), 1–31.

Diamond, Rebecca, Tim McQuade, and Franklin Qian, "The Effects of Rent Control Expansion on Tenants, Landlords, and Inequality: Evidence from San Francisco," *American Economic Review*, September 2019, *109* (9), 3365–3394.

Duranton, Gilles and Diego Puga, "Urban Growth and Its Aggregate Implications," *Econometrica*, 2023, *91* (6), 2219–2259.

Einstein, Katherine Levine, David M. Glick, and Maxwell Palmer, *Neighborhood Defenders: Participatory Politics and America's Housing Crisis*, 1 ed., Cambridge University Press, December 2019.

Fischel, William A., *The Homevoter Hypothesis: How Home Values Influence Local Government Taxation, School Finance, and Land-Use Policies*, Harvard University Press, July 2009.

Gyourko, Joseph, Jonathan S. Hartley, and Jacob Krimmel, "The local residential land use regulatory environment across U.S. housing markets: Evidence from a new Wharton index," *Journal of Urban Economics*, July 2021, *124*, 103337.

Heckler, Amber, "This is how much Houston home prices have fallen since 2024," January 2026.

Hembre, Erik, Ben Horowitz, Libby Starling, and Maxine Xu, "Unpacking supply and demand in rent trends since the Minneapolis 2040 Plan," Technical Report, Federal Reserve Bank of Minneapolis August 2025.

Hsieh, Chang-Tai and Enrico Moretti, "Housing Constraints and Spatial Misallocation," *American Economic Journal: Macroeconomics*, April 2019, *11* (2), 1–39.

Khan, Asad R, "Decentralized Land-Use Regulation with Agglomeration Spillovers: Evidence from Aldermanic Privilege in Chicago," *Job Market Paper*, 2021.

Kline, Patrick, Evan K Rose, and Christopher R Walters, "Systemic Discrimination Among Large U.S. Employers," *The Quarterly Journal of Economics*, September 2022, *137* (4), 1963–2036.

_ , Evan K. Rose, and Christopher R. Walters, "A Discrimination Report Card," *American Economic Review*, August 2024, *114* (8), 2472–2525.

Kulka, Amrita, Aradhya Sood, and Nicholas Chiumenti, "How to Increase Housing Affordability? Understanding Local Deterrents to Building Multifamily Housing," *SSRN Electronic Journal*, 2022.

Molloy, Raven, Charles G. Nathanson, and Andrew Paciorek, "Housing supply and affordability: Evidence from rents, housing consumption and household location," *Journal of Urban Economics*, May 2022, *129*, 103427.

Ortalo-Magné, François and Andrea Prat, "On the Political Economy of Urban Growth: Homeownership versus Affordability," *American Economic Journal: Microeconomics*, February 2014, *6* (1), 154–181.

Paciorek, Andrew, "Supply constraints and housing market dynamics," *Journal of Urban Economics*, September 2013, *77*, 11–26.

Turner, Matthew, Andrew Haughwout, and Wilbert Van Der Klaauw, "Land Use Regulation and Welfare," *Econometrica*, 2014, *82* (4), 1341–1403.

Zhang, Yue, "Boundaries of Power: Politics of Urban Preservation in Two Chicago Neighborhoods," *Urban Affairs Review*, July 2011, *47* (4), 511–540.

Alderman Regulatory Uncertainty Index

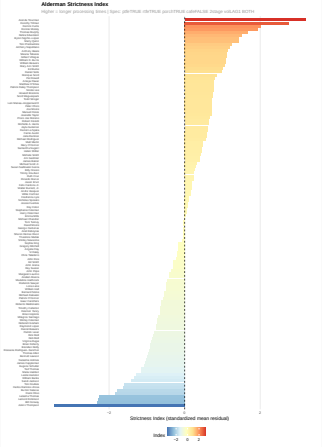

Back

FE-Adjusted Spatial RD: Ward-Pair Cluster

Log(FAR)

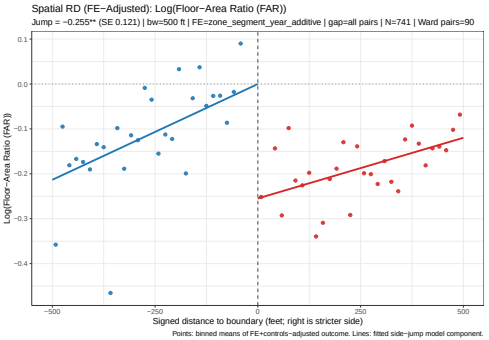

Log(DUPAC)

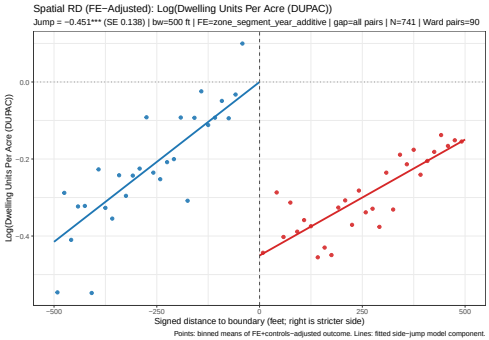

Same multifamily + zoning + segment + year FE; SEs clustered by ward pair.

Back

FE-Adjusted Spatial RD: All-Sample Version

Log(FAR)

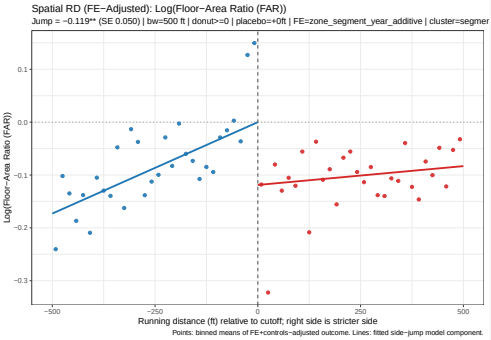

Log(DUPAC)

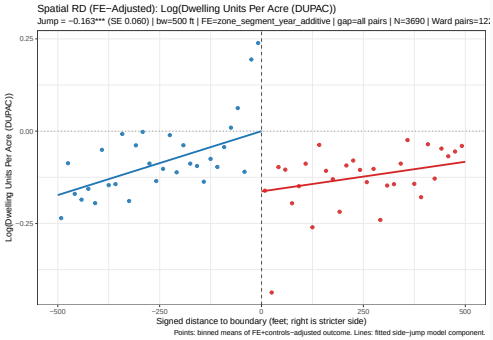

Same FE/cluster stack as main slide, but using all parcels with unitscount > 0.

Back

FE-Adjusted Spatial RD: Segment + Year FE

Log(FAR)

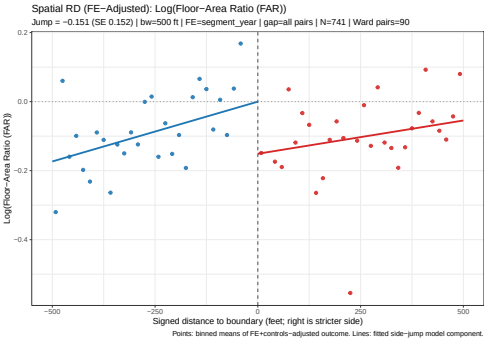

Log(DUPAC)

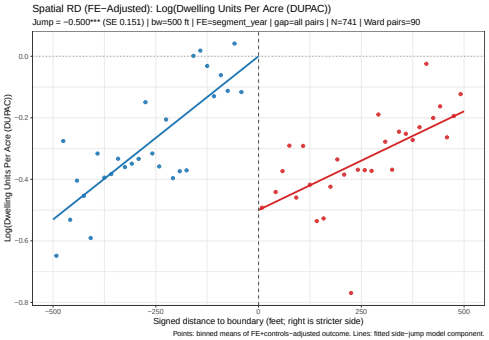

Removes zoning FE; signs remain negative.

Back

Border FE Robustness: Ward-Pair Cluster

	ln(FAR)	ln(DUPAC)
	(1)	(2)
Uncertainty Index	-0.10**	-0.07**
	(0.04)	(0.04)
Observations	741	741
Dep. Var. Mean	2.48	81.90
Ward Pairs	98	98
Zoning Code FE	✓	✓
Segment FE	✓	✓
Year FE	✓	✓

Back

Border FE Robustness: Segment + Year FE

	ln(FAR)	ln(DUPAC)
	(1)	(2)
Uncertainty Index	-0.10***	-0.09**
	(0.04)	(0.04)
Observations	741	741
Dep. Var. Mean	2.48	81.90
Ward Pairs	98	98
Segment FE	✓	✓
Year FE	✓	✓

Back

Border FE Robustness: All-Sample FE Stack

	ln(FAR)	ln(DUPAC)	ln(Units)
	(1)	(2)	(3)
Uncertainty Index	-0.01	0.0005	0.04*
	(0.02)	(0.02)	(0.02)
Observations	3,690	3,690	3,690
Dep. Var. Mean	1.28	32.01	7.61
Ward Pairs	134	134	134
Zoning Code FE	✓	✓	✓
Segment FE	✓	✓	✓
Year FE	✓	✓	✓

Back

Border FE Robustness: All-Sample + Ward-Pair Cluster

	ln(FAR)	ln(DUPAC)
	(1)	(2)
Uncertainty Index	-0.01	0.0005
	(0.01)	(0.02)
Observations	3,690	3,690
Dep. Var. Mean	1.28	32.01
Ward Pairs	134	134
Zoning Code FE	✓	✓
Segment FE	✓	✓
Year FE	✓	✓

Back

Permutation Test: Rental FE (Controls)

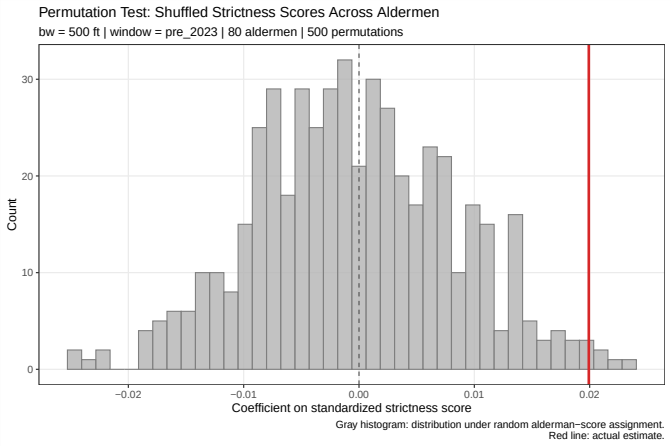

2014–2022 sample, 500 ft bandwidth, controls included.

Permutation p-values: two-sided = 0.02; one-sided = 0.01.

Treatment and Control Block Details

	To Stricter	To Lenient	Total Treated	Control
2015 Cohort				
N Blocks	5,696	5,973	11,669	24,342
Controls per Treated		—		2.09
Mean ΔStrictness	$+0.66$	-0.58	$+0.02$	0.00
2023 Cohort				
N Blocks	3,721	4,480	8,201	23,446
Controls per Treated		—		2.86
Mean ΔStrictness	$+0.87$	-0.72	$+0.00$	0.00

Treatment defined as blocks that switched aldermen during redistricting.
Control blocks are near ward boundaries but did not switch.

Back Maps

Identification Example: Ward Pair 13–23

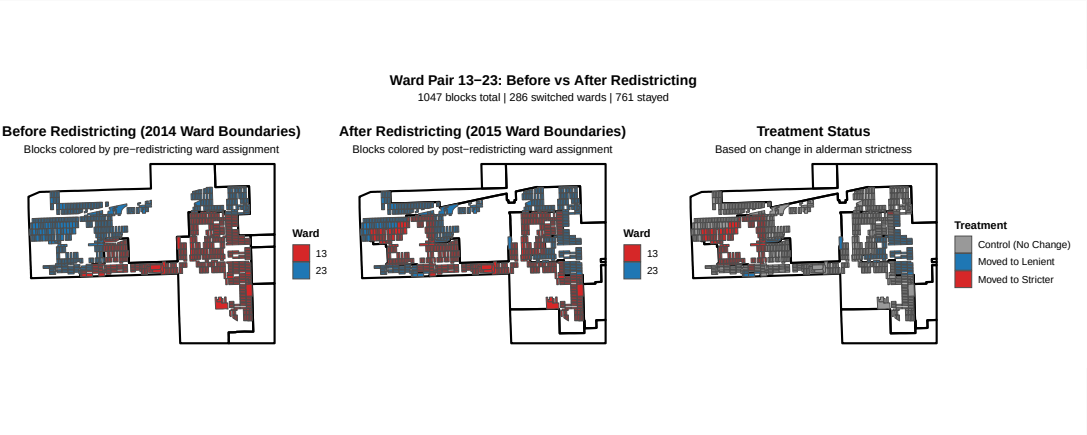

Same border pair, before/after redistricting, highlighting treated and control blocks.

Next

Citywide Treatment and Control Blocks

2015 Redistricting

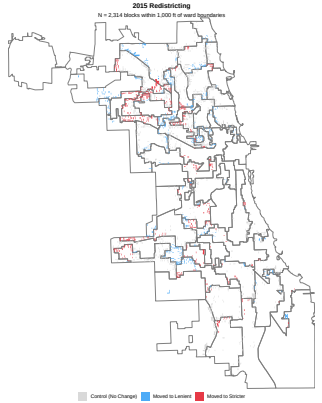

2023 Redistricting

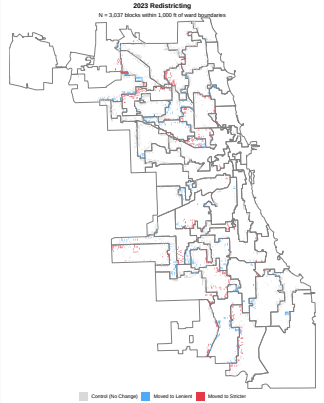

Red = switched to stricter; Blue = switched to lenient; Gray = control (no switch)

Back
Event Study

Home Price Event Study: Without Hedonic Controls

Aggregate Treatment Effect

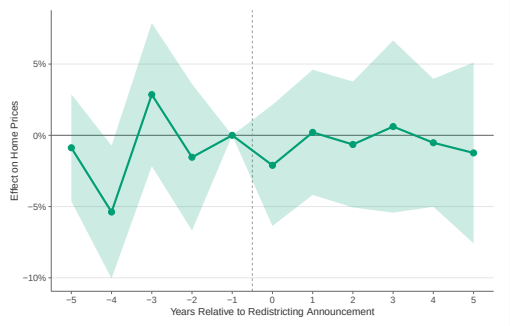

Stricter vs. Lenient

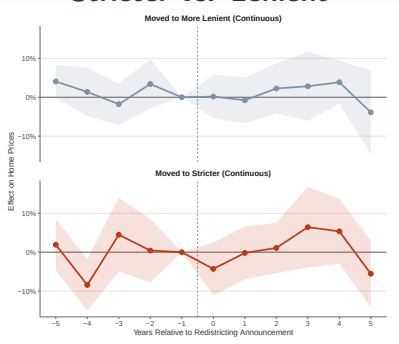

Back
DiD Table

Difference-in-Differences: Home Prices (1000ft, Uniform)

	No Hedonics	Hedonics
Post × ΔStrict	-0.002	-0.007
	(0.011)	(0.010)
N	60,037	60,019
Dep. Var.	Mean: $382K / Median: $305K	

Stacked announcement specification, 1000 ft bandwidth, uniform weighting.

Back